ACT Crime Stats June 2022 Dataset

Alan Gaugler
July 2024

This format of the dataset was available up until June 2022.

- Incident numbers are given for an entire quarter.
- In the Date slicers, the date is the last day of the quarter.
- There are statistics for 23 infringement types.
- Statistics are given by suburb, offering detailed granularity for the maps.
- The two Location tabs are the same except for the map format. Ideally, I would have liked to combine the two formats(map 1 maps and map 2 polygons, but that is not possible in the free version of Power BI.
- The available dataset after June 2022 could no longer be broken down by suburb.

Tab: ACT Crimes Location – Map Style 1

ACT Quarterly Crime Statistics

January 2014 - June 2022

Since July 2022, the dataset is no longer by suburb.

Source: https://www.policenews.act.gov.au/crime-statistics-and-data/crime-statistics

Number of Selected Quarters	Number of Incidents	Average Number of Incidents per Month	Population (2021 Census)	Average Annual Rate of Incidents per 1000 Residents
34	22186	217.51	452,540	5.77

Date

Note: The date is the last day of the quarter. It represents the entire quarter.

31/03/2014

30/06/2022

District

- Select all
- Belconnen
- Gungahlin
- Inner North
- Inner South
- Molonglo
- Rural
- Tuggeranong
- Weston Creek
- Woden Valley

Crime

- Select all
- Assault Family Violence
- Assault Non-Family Violence
- Burglary Dwellings
- Burglary Other
- Burglary Shops
- Criminal Infringement Notices
- Homicide
- Other Offences
- Other Offences Against A Person
- Property Damage
- Robbery Armed
- Robbery Other
- Sexual Assault
- Theft Excluding Motor Vehicles
- Theft: Motor Vehicle
- Traffic: Mobile Use
- Traffic: Other
- Traffic: Seatbelts
- Traffic: Speeding

Suburb

- Select all
- Acton
- Ainslie
- Amaroo
- Aranda
- Banks
- Barton
- Beard
- Belconnen
- Black Mountain
- Bonner
- Bonython
- Braddon
- Bruce
- Calwell
- Campbell
- Capital Hill
- Casey
- Chapman
- Charnwood
- Chifley
- Chisholm
- Civic
- Conder
- Cook

Number of Incidents Per District

Crime: Traffic: Speeding

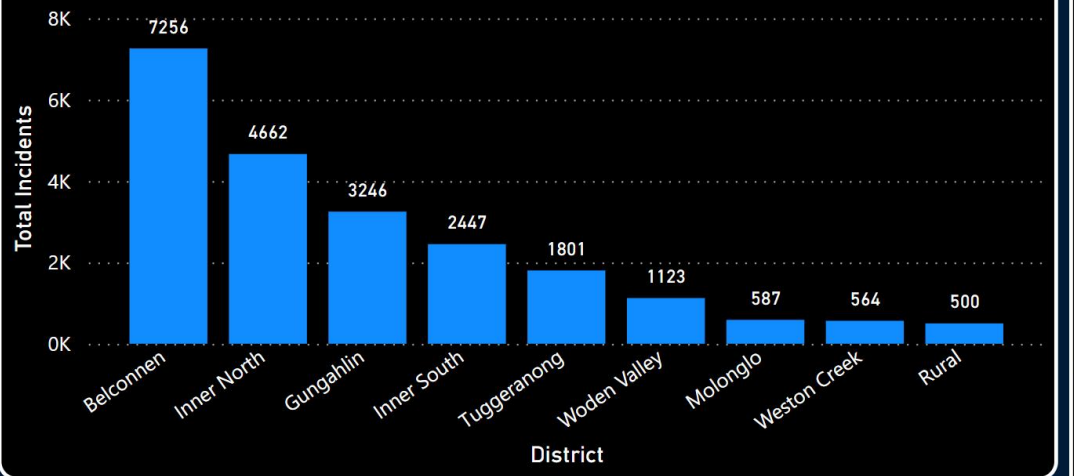

Number of Incidents Per Suburb

Crime: Traffic: Speeding

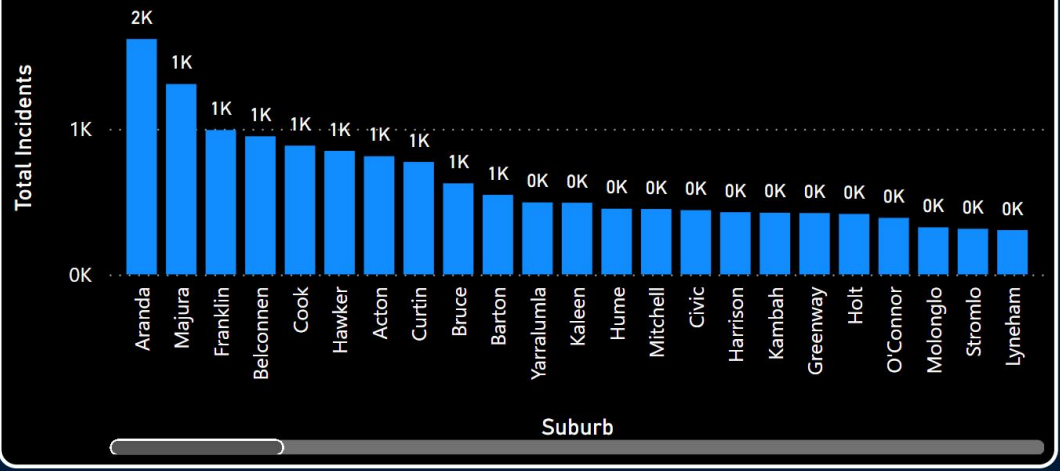

Incidents by Suburb

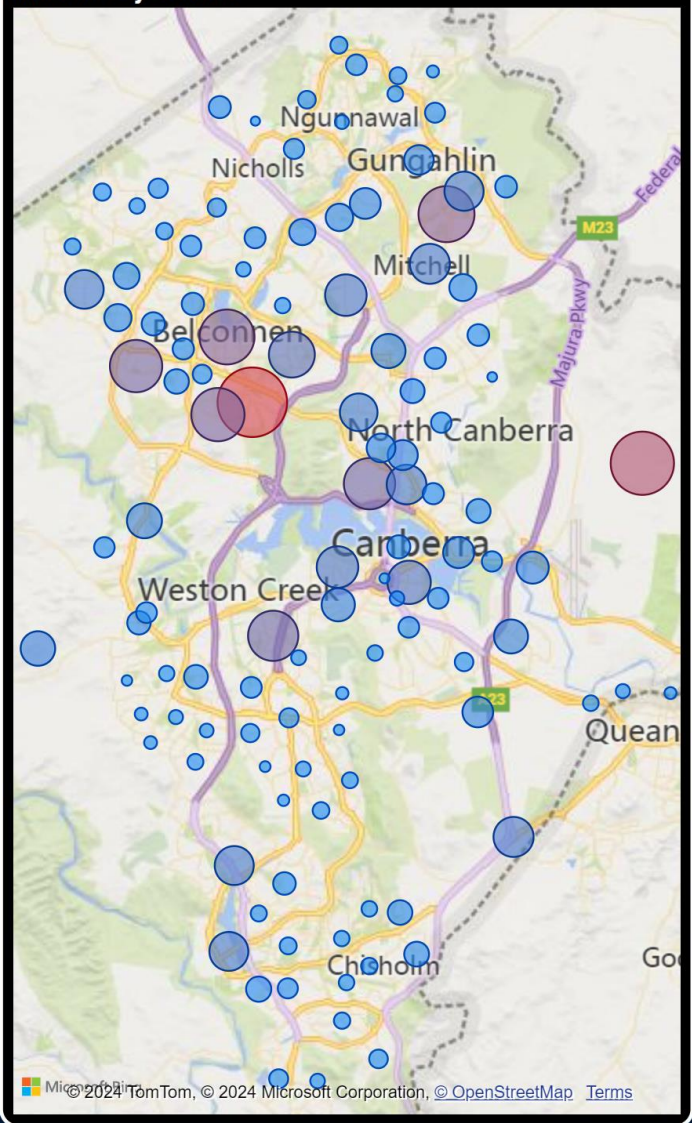

Tab: ACT Crimes Location – Map Style 2

ACT Quarterly Crime Statistics

January 2014 - June 2022

Since July 2022, the dataset is no longer by suburb.

Source: https://www.policenews.act.gov.au/crime-statistics-and-data/crime-statistics

Number of Selected Quarters	Number of Incidents	Average Number of Incidents per Month	Population (2021 Census)	Average Annual Rate of Incidents per 1000 Residents
4	1988	165.67	452,540	4.39

Date

Note: The date is the last day of the quarter. It represents the entire quarter.

1/01/2021

31/12/2021

District

- Select all
- Belconnen
- Gungahlin
- Inner North
- Inner South
- Molonglo
- Rural
- Tuggeranong
- Weston Creek
- Woden Valley

Crime

- Select all
- Assault Family Violence
- Assault Non-Family Violence
- Burglary Dwellings
- Burglary Other
- Burglary Shops
- Criminal Infringement Notices
- Homicide
- Other Offences
- Other Offences Against A Person
- Property Damage
- Robbery Armed
- Robbery Other
- Sexual Assault
- Theft Excluding Motor Vehicles
- Theft: Motor Vehicle
- Traffic: Mobile Use
- Traffic: Other
- Traffic: Seatbelts
- Traffic: Speeding

Suburb

- Select all
- Acton
- Ainslie
- Amaroo
- Aranda
- Banks
- Barton
- Beard
- Belconnen
- Black Mountain
- Bonner
- Bonython
- Braddon
- Bruce
- Calwell
- Campbell
- Capital Hill
- Casey
- Chapman
- Charnwood
- Chifley
- Chisholm
- Civic
- Conder
- Cook

Number of Incidents Per District

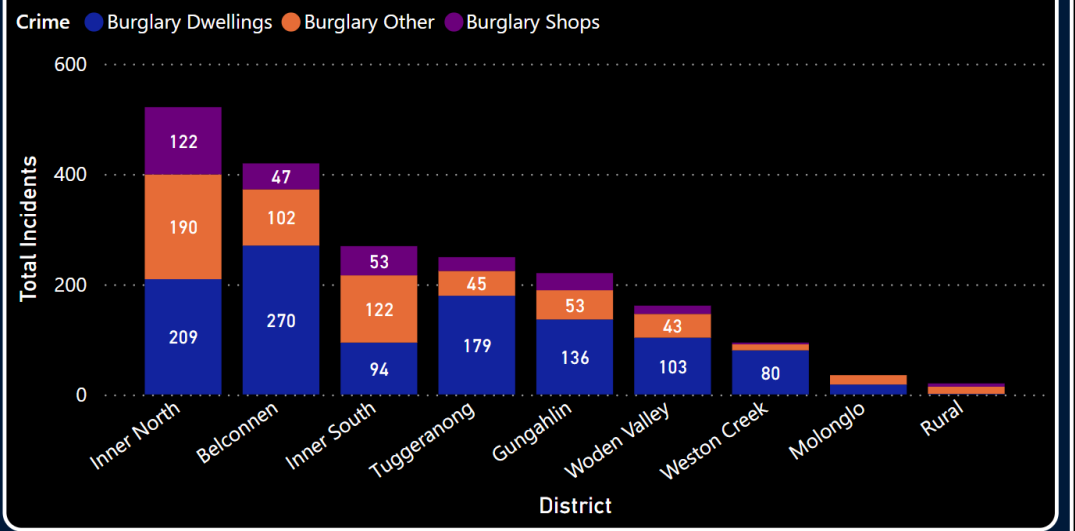

Number of Incidents Per Suburb

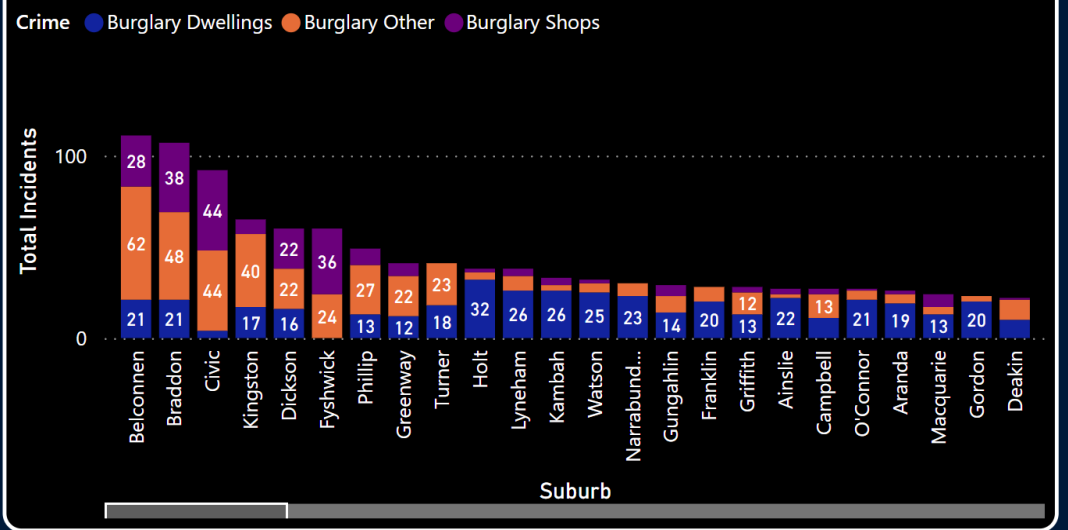

Incidents by Suburb

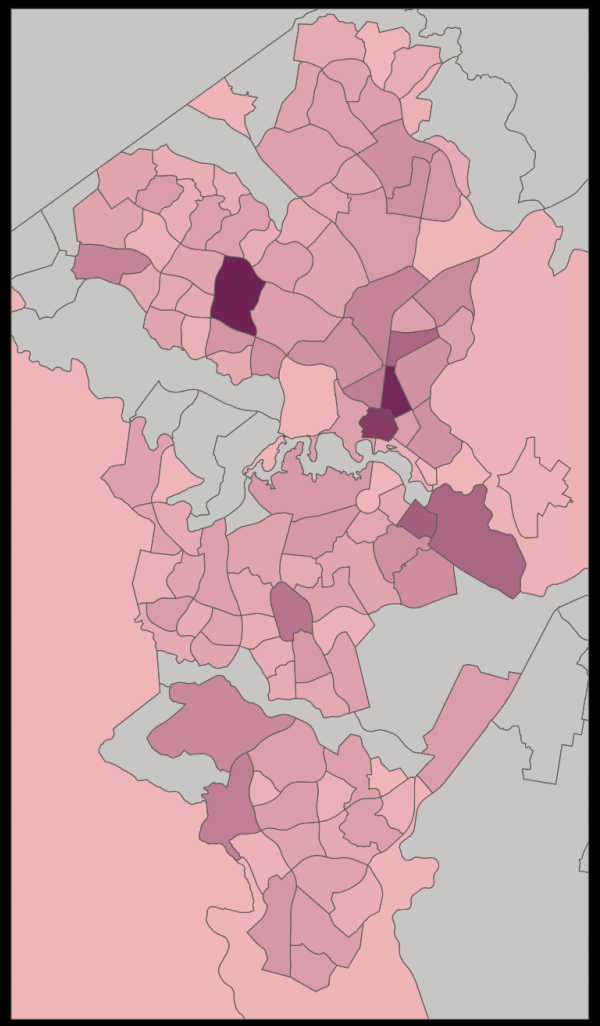

Tab: ACT Crimes - Time

Date

31/03/2014

30/06/2022

District

- Select all
- Belconnen
- Gungahlin
- Inner North
- Inner South
- Molonglo
- Rural
- Tuggeranong
- Weston Creek
- Woden Valley

Crime

- Select all
- Assault Family Violence
- Assault Non-Family Violence
- Burglary Dwellings
- Burglary Other
- Burglary Shops
- Criminal Infringement Notices
- Homicide
- Other Offences
- Other Offences Against A Person
- Property Damage
- Robbery Armed
- Robbery Other
- Sexual Assault
- Theft Excluding Motor Vehicles
- Theft: Motor Vehicle
- Traffic: Mobile Use
- Traffic: Other
- Traffic: Seatbelts
- Traffic: Speeding

Suburb

- Select all
- Acton
- Ainslie
- Amaroo
- Aranda
- Banks
- Barton
- Beard
- Belconnen
- Black Mountain
- Bonner
- Bonython
- Braddon
- Bruce

Number of Selected Quarters	Number of Incidents	Average Number of Incidents per Month	Population (2021 Census)	Average Annual Rate of Incidents per 1000 Residents
34	22645	222.01	452,540	5.89

Total Number of Incidents per Year

Crime: Assault Family Violence, Assault Non-Family Violence

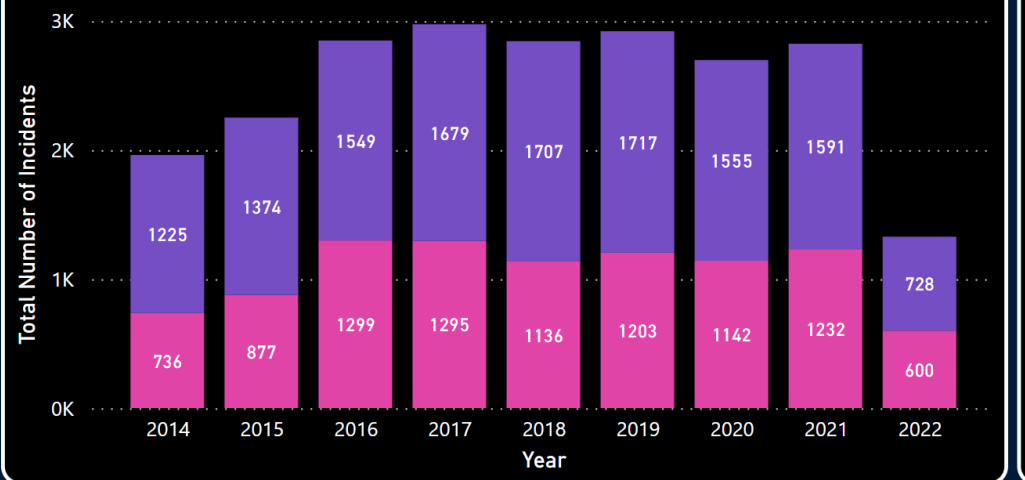

Crime Comparison by District

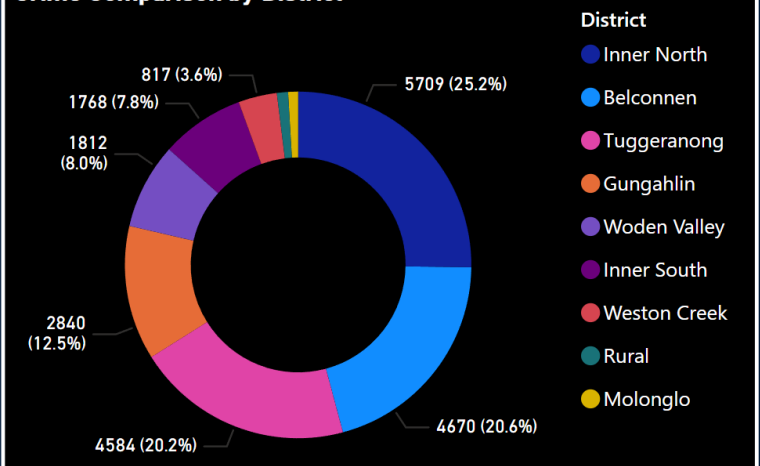

Average Number of Incidents per Quarter

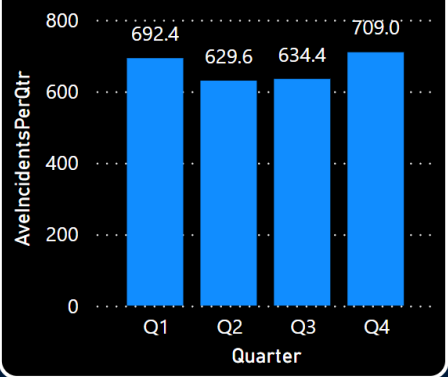

Number of Incidents Per Quarter

Crime: Assault Family Violence, Assault Non-Family Violence

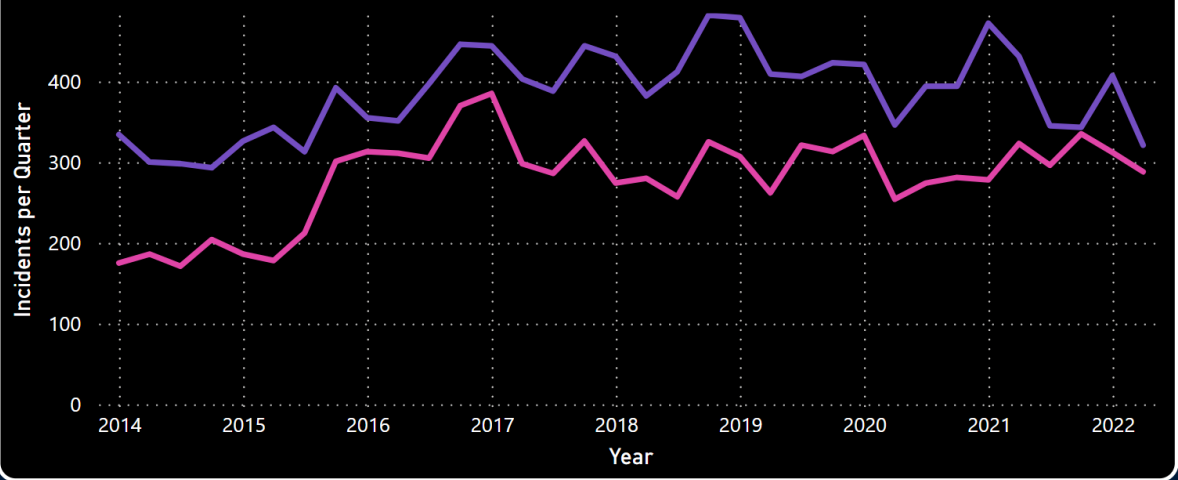

Crime Comparison by Proportions

Crime: Assault Non-Family Violence, Assault Family Violence

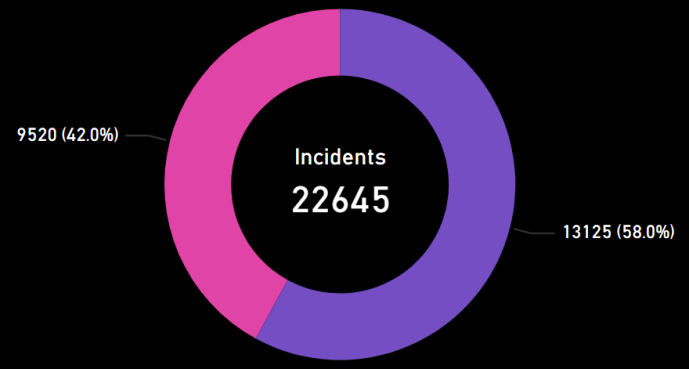

Tab: ACT Crimes – Stats By Year

Crime

- Select all
- Assault Family Violence
- Assault Non-Family Violence
- Burglary Dwellings
- Burglary Other
- Burglary Shops
- Criminal Infringement Notices
- Homicide
- Other Offences
- Other Offences Against A Person
- Property Damage
- Robbery Armed
- Robbery Other
- Sexual Assault
- Theft Excluding Motor Vehicles
- Theft: Motor Vehicle
- Traffic: Mobile Use
- Traffic: Other
- Traffic: Seatbelts

Number of Incidents per Year

Note: 2022 numbers are for up to June 30.

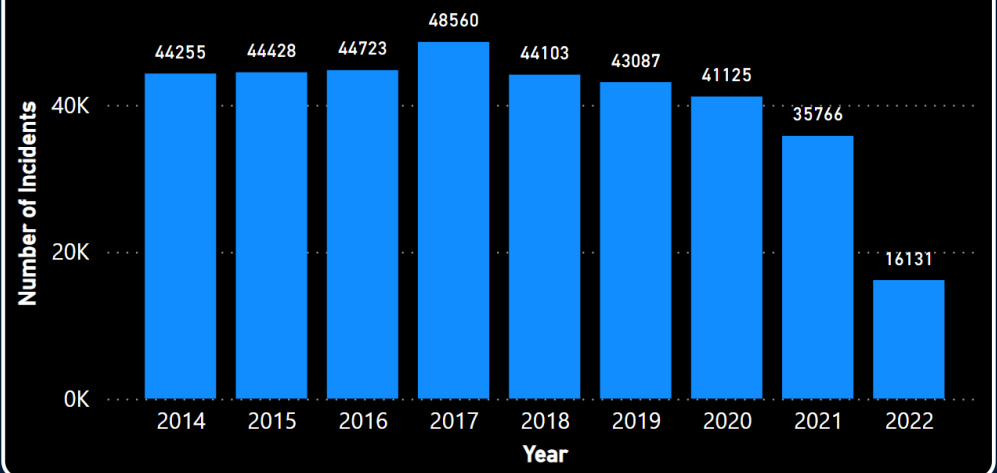

% Change from Previous Year

Note: 2022 % Change is Year to Date up to June 30, 2021/2022

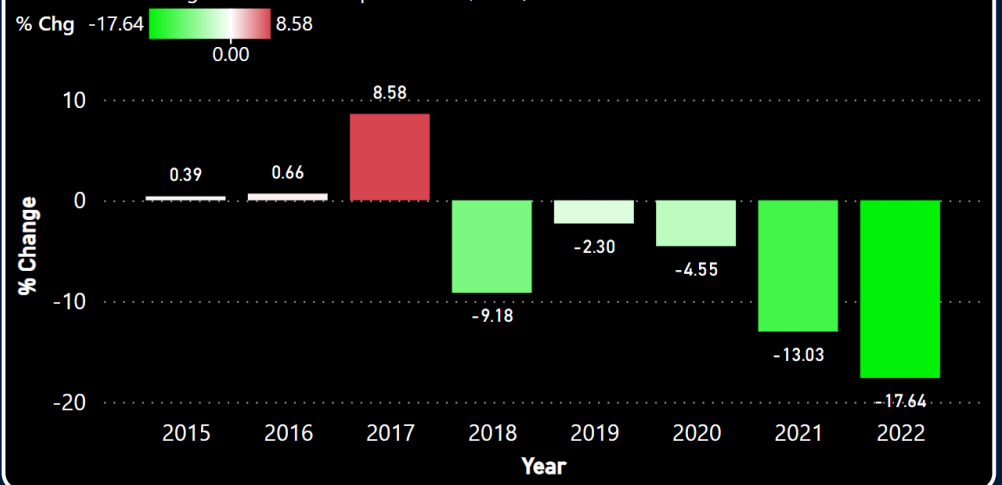

District

- Select all
- Belconnen
- Gungahlin
- Inner North
- Inner South
- Molonglo
- Rural
- Tuggeranong
- Weston Creek
- Woden Valley

Suburb

- Select all
- Acton
- Ainslie
- Amaroo
- Aranda
- Banks
- Barton
- Beard
- Belconnen
- Black Mountain
- Bonner
- Bonython
- Braddon
- Bruce

Number of Crimes per Year by Crime and Percentage of Change from Previous Year - Entire ACT

Note: 2022 % Change is Year to Date up to June 30, 2021/2022

Year	2014		2015		2016		2017		2018		2019		2020		2021		2022	
Crime	# Incdts	% Chg	# Incdts	% Chg	# Incdts	% Chg	# Incdts	% Chg	# Incdts	% Chg	# Incdts	% Chg	# Incdts	% Chg	# Incdts	% Chg	# Incdts	% Chg
Assault Family Violence	736		877	19.16	1299	48.12	1295	-0.31	1136	-12.28	1203	5.90	1142	-5.07	1232	7.88	600	-0.17
Assault Non-Family Violence	1225		1374	12.16	1549	12.74	1679	8.39	1707	1.67	1717	0.59	1555	-9.44	1591	2.32	728	-19.38
Burglary Dwellings	1527		1552	1.64	1417	-8.70	1835	29.50	1461	-20.38	1708	16.91	1262	-26.11	1090	-13.63	524	-2.60
Burglary Other	503		671	33.40	636	-5.22	584	-8.18	558	-4.45	594	6.45	492	-17.17	596	21.14	257	-20.19
Burglary Shops	259		397	53.28	346	-12.85	309	-10.69	311	0.65	451	45.02	318	-29.49	302	-5.03	215	55.80
Criminal Infringement Notices	383		289	-24.54	365	26.30	212	-41.92	78	-63.21	77	-1.28	34	-55.84	103	202.94	8	-27.27
Homicide	4		10	150.00	4	-60.00	6	50.00	9	50.00	9	0.00	10	11.11	15	50.00	3	-62.50
Other Offences	10628		10068	-5.27	11183	11.07	12668	13.28	12680	0.09	12323	-2.82	12877	4.50	10259	-20.33	4858	-14.67
Other Offences Against A Person	100		128	28.00	289	125.78	244	-15.57	249	2.05	279	12.05	296	6.09	270	-8.78	136	2.26
Property Damage	4147		5300	27.80	4761	-10.17	5377	12.94	4518	-15.98	4923	8.96	3775	-23.32	3821	1.22	1752	-13.48
Robbery Armed	95		113	18.95	108	-4.42	124	14.81	122	-1.61	121	-0.82	65	-46.28	85	30.77	28	-17.65
Robbery Other	71		54	-23.94	88	62.96	110	25.00	104	-5.45	119	14.42	103	-13.45	87	-15.53	39	-13.33
Sexual Assault	385		484	25.71	508	4.96	546	7.48	521	-4.58	615	18.04	514	-16.42	538	4.67	228	-19.43
Theft Excluding Motor Vehicles	9393		11186	19.09	9721	-13.10	9859	1.42	8854	-10.19	8938	0.95	7147	-20.04	7957	11.33	3906	-9.01
Theft: Motor Vehicle	835		1088	30.30	1084	-0.37	1584	46.13	1232	-22.22	1291	4.79	1232	-4.57	1428	15.91	702	-0.57
Traffic: Mobile Use	1007		763	-24.23	1034	35.52	1026	-0.77	1088	6.04	823	-24.36	624	-24.18	412	-33.97	142	-45.59
Traffic: Other	9361		7401	-20.94	7448	0.64	7712	3.54	6737	-12.64	5127	-23.90	6539	27.54	4070	-37.76	1458	-39.15
Traffic: Seatbelts	289		181	-37.37	206	13.81	223	8.25	187	-16.14	164	-12.30	135	-17.68	57	-57.78	18	-47.06
Traffic: Speeding	3307		2492	-24.64	2677	7.42	3167	18.30	2551	-19.45	2605	2.12	3005	15.36	1853	-38.34	529	-54.48